The Cost of Transit Construction

Stats 423: Applied Linear Regression

March 12, 2026

Name	**Contribution**
Alison Tan	Model Building and Diagnostics
Katie Gower	Introduction, Data Description
Viki Hristova	Abstract, Conclusion

Abstract

Increasing urban populations are driving the need for accessible public transportation. However, large scale construction projects often require substantial investments. The Transit Costs Project dataset on transit costs compiles information on transit projects across differing timelines, project scales, and locations in hope of understanding transit project cost variance.

Our research questions focus on what characteristics of a project drive cost and in what regions projects are more expensive in both cost per kilometer and total real cost, which are in US dollars adjusted for 2023 inflation. To further analyze factors that could explain project costs, we joined data from the World Bank on urban population percentage and GDP. We built simple multiple linear regression models for our two response variables, overall real cost and cost per kilometer, through both direction stepwise model selection, accounting for correlation between attributes, and focusing on adjusted R squared values.

From our models, we concluded that the main factors influencing the cost of transit projects and length and stations, which are highly correlated, as well as the duration of a project in years, the GDP of the country where a project was constructed, and the continent where the project is located. In addition, we found that projects in Africa were associated with the highest costs and projects in Europe and Asia had the lowest costs.

Public transit works to move people where they live, work, and play. In recent years, people have been advocating for an increase in transit access to reduce car dependence. With demand growing, it is necessary to increase transit infrastructure. However, cost of construction and time to complete projects are barriers in allowing the transition to public transit.

could cut like one sentence here

1 Introduction

Public transit works to move people back and forth from the important places in their lives every day. Many want the world at large to transfer to a more public transit oriented lifestyle, where less people use cars daily and more opt for public transport. When demand

grows, it becomes necessary to add onto the existing transit infrastructure. However, cost of construction and the time to complete it are barriers in allowing this change.

The Transit Costs dataset was created with hopes of understanding what affects the cost of public transit construction projects. It covers many types of transit projects such as railroad, tunnel, elevated, lightrail, and subway and sixty countries across all continents except Antarctica. The observations are most concentrated in the past three decades.

1.1 Research Questions

1. What characteristics of projects drive cost per km?
2. What regions are projects more expensive in by kilometer?
3. What attributes create a more expensive project overall?
4. What regions are projects more expensive in overall?

2 Data Description and Exploratory Data Analysis (EDA)

2.1 Variables

Response variables:

- Cost per kilometer in millions of real US dollars
- Total real cost in millions US dollars

may need to mention that real dollars means that they are adjusted for inflation

Predictors:

- Year: Midpoint of project completion
- Stations: Number of stations
- Length: Length of line in kilometers
- RR: Regional Rail or not (logical value)
- Country: Country Project is in
- Elevated: Length in kilometer of elevated line
- TunnelPer: Percentage of line that is tunnel
- AtGrade: Length of line atgrade (at ground level)
- Start Year
- End Year
- GDP: Real GDP for country and year

could be good to include if quantitative/numerical, categorical etc

Variables created:

- Years: End Year - Start Year
- Continent: Continent the construction took place in

this is the same as in the introduction. Could cut down to one sentence. or could put it in a separate section, not necessarily explotaroy analysis. probably wouldnt help spacing wise though to have 2.1, 2.2, and 2.3 where 2.2 becomes data description

2.2 Exploratory Analysis

could link to dataset

The Transit Costs dataset was created with hopes of understanding what affects the cost of public transit construction projects. It covers many types of transit projects such as railroad, tunnel, elevated, lightrail, and subway and sixty countries across all continents except Antarctica. The observations are most concentrated in the past three decades.

note: there are cost and currency, attributes in the dataset but we do not use

In the transit costs dataset, all monetary values are in millions of real US dollars. GDP was measured in real US dollars. Measures of length were in kilometers. We cast some columns as numeric or factor.

can mention that they were character to begin with leading to need for casting

Some variables we were interested in weren't in the original dataset but could easily be created, like continent and years to complete.

i feel like we only recovered years. so we could be more specific and have it be more like in the presentation and mention how years were missing and for other attributes that were missing we chose to not use instead of making assumptions

The data had many missing values, but most of the integral ones were recovered. Real cost originally had most values missing, but when we multiplied real cost/kilometer and length in kilometers, it matched well to the existing values. We also added many values for year using imputation. If a start year or end year was missing, it was filled in by taking the average years to complete for the continent of that observation. Asia and Africa originally had many more missing values for year than other continents.

GDP data was pulled from World Bank. The original format was rows corresponding to countries and columns corresponding to years. Data transformation was done to assign each row of the transit costs dataset a GDP value for the country of the project in the project's midpoint year. Urban population was also from World Bank and had a similar format, but did not make it into any of the final models.

could mention that it didn't make it into any final model because it was not a good predictor like we thought it may be to explain that it was not just an addition of data for no reason

Figure 1: Proportion of Missing Years by Continent

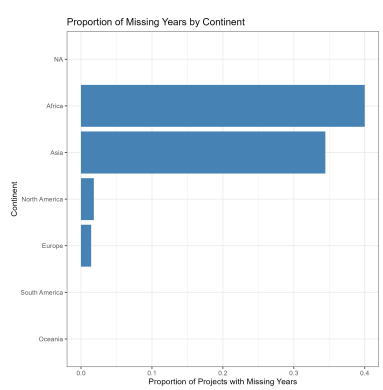

Figure 2: Proportion of Missing Years by Continent

3 Methodology and Model Building

3.1 Proposed First Model

We fit a multiple linear regression model of the form:

$$log(CostPerKm) = -4.83 + 0.027Years + 0.005StartYear + 0.0055TunnelPer - 1.35ContinentAsia$$

is north america not in this model or is it from formatting issues?

$$-1.24ContinentEurope - 0.81ContinentOceania - 0.94ContinentSouthAmerica - 0.19PPPRate + \epsilon_i$$

we do not mention the error distribution here like below

3.2 Proposed Second Model

$$TotalCost = 57.91 + 0.157 * TunnelPer + 0.488 * Years + 1.223 * Length + -3.1e-13 * GDP$$

$$-31.23 * ContinentAsia - 45.75 * ContinentEurope - 24.36 * ContinentNorthAmerica -$$

$$23.60 * ContinentOceania - 24.18 * ContinentSouthAmerica + \epsilon_i$$

where $\epsilon_i \overset{iid}{\sim} \mathcal{N}(0, \sigma^2)$.

3.3 First Model Selection and Summary

Predictor	**Estimate**	**Std. Error**	**t-value**	**Pr($>\|t\|$)**
(Intercept)	-4.8386861	4.0279853	-1.201	0.229993
Years	0.0274532	0.0060991	4.501	7.73e-06
Start.year	0.0054683	0.0020058	2.726	0.006542
TunnelPer	0.0055893	0.0004717	11.848	$< 2e^{-16}$
ContinentAsia	-1.3481124	0.2395711	-5.627	2.51e-08
ContinentEurope	-1.2433227	0.2384818	-5.213	2.34e-07
ContinentNorth America	-0.8059310	0.2467630	-3.266	0.001136
ContinentOceania	-1.0861986	0.3600030	-3.017	0.002630
ContinentSouth America	-0.9436826	0.2721792	-3.467	0.000553
PPP.rate	-0.1978282	0.0262669	-7.531	1.32e-13

A log transformation created a more normal distribution of cost/km (insert histograms)

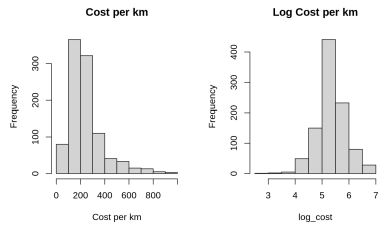

Figure 3: Histograms of Cost per kilometer Log Transformation

This is kind of an incomplete sentence

Initial model with as many variables: log_cost Years + Start.year + Length + Stations + TunnelPer + PPP.rate + gdp + urban_pop

Bidirection stepwise selection was performed while looking at AIC. The urban population variable was the only variable removed.

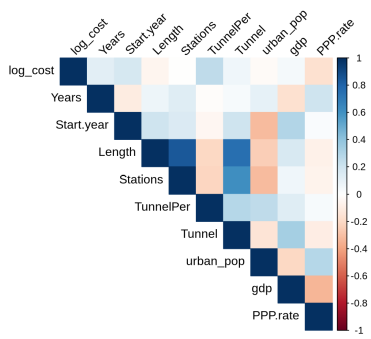

Figure 4: Correlation of Possible Log Cost/km Variables

GDP and PPP rate measure similar things and are slightly correlated. We removed the one that resulted in the smaller R squared, which was GDP.

Finally, we added continents as a categorical predictor to the model. After doing so, length became insignificant (high p-value) so we removed it, giving us the final model.

if we manage to reduce space before this section, the graph can likely fit on this page and we would not lose the space. It is the second model though however, so it could make sense to want to start fresh on a new page

3.4 Second Model Selection and Summary

Predictor	Estimate	Std. Error	t-value	Pr($>\|t\|$)
(Intercept)	5.791e+01	8.365e+00	6.924	8.86e-12
Years	4.884e-01	2.064e-01	2.367	0.018175
ContinentAsia	-3.123e+01	8.231e+00	-3.794	0.000159
ContinentEurope	-4.575e+01	8.247e+00	-5.547	3.91e-08
ContinentNorth America	-2.436e+01	8.528e+00	-2.856	0.004396
ContinentOceania	-2.360e+01	1.243e+01	-1.899	0.057911
ContinentSouth America	-2.418e+01	9.391e+00	-2.575	0.010205
gdp	-3.188e-13	1.044e-13	-3.054	0.002329
Length	1.223e+00	3.262e-02	37.474	$< 2e^{-16}$
TunnelPer	1.571e-01	1.702e-02	9.230	$< 2e^{-16}$

Because of the difficulties of predicting cost per kilometer, we pivoted our focus to total cost. it could make sense to put this sentence with the following paragraph to save a line

We started with an initial model that did not use continents. When looking at the initial model (real_cost $\sim$ Stations + gdp + RR. + TunnelPer) AIC, BIC, R squared values and residual plots, a square root transformation seemed to be the best option to increase Adjusted R Squared without sacrificing model assumptions.

should we say why it is square root? like that it helped with residuatls?

Once we settled on a square root transformation, we added all the possible predictors in (still excluding continents), then removed RR using bidirectional stepwise selection, removed urban pop and tunnel percentage because they had high p-values and were insignificant predictors. Stations was removed because it's highly correlated with length and this resulted in the best adjusted R squared. an and could make sense here to finish out the list in the sentence

are we saying that all of the changes we made led to best R squared or just removing stations?

Our final model, once continents were added, had an Adjusted R Squared of 0.7008. It had 824 degrees of freedom when we started with 1007 observations because of NAs that weren't able to be removed.

Could make more sense to say we started with 1007 observations and with NA values, our final model had 824 degrees of freedom.

We were also interested in why projects were left incomplete, but imputing missing values would have required making assumptions that weren't necessarily reasonable. Because we did not study this binary response variable very closely, logistic regression was not needed. We did not study years to complete for a similar reason.

4 Diagnostics

4.1 First Model Diagnostics

To assess how reliable our model was and if the assumptions of the model were satisfied, we looked at our residual plots, the QQ plot along with a Kolmogorov-Smirnov test, GVIF—not VIF since Continents was factored—and conducted Durbin-Watson and Moran's I tests for spatial and auto correlation.

The highest GVIF value was 1.49, so none were over 2 and we had no concern about multicollinearity.

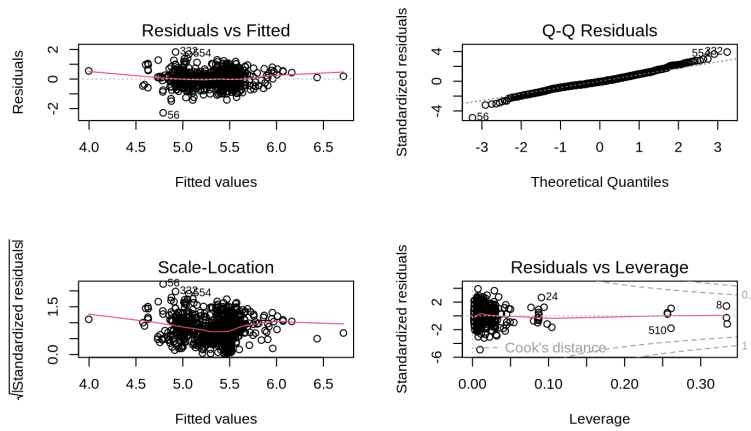

Figure 5: Cost per kilometer Diagnostic Plots

Looking at the residual plots, we see that most of our model assumptions are satisfied. There seems to be an even scattering of residuals around 0, with no evidence of heteroskedasticity, and the points on the QQ plot follow the linear line well, indicating normality of residuals.

Finally looking at autocorrelation and spatial correlation to attempt to satisfy our independence assumption, we conducted a Durbin-Watson and Moran's I test. The Durnin-Watson test indicated that there was evidence of autocorrelation, and the Moran's I test indicated that there was no evidence of spatial correlation. We attempted various transformations, but these were unsuccessful in addressing autocorrelation. So, our independence assumption is not satisfied.

This mild violation of our regression assumptions may raise problems and reduce the accuracy of our model. It is likely that different transformations we did not consider, or some time-related structure that we did not consider in our model could further improve the model and satisfy all of our model assumptions.

4.2 Second Model Diagnostics

We approached model diagnostics for this model in the same manner as we did model 1. To assess how reliable our model was and if the assumptions of the model were satisfied, we looked at our residual plots, the QQ plot along with a Kolmogorov-Smirnov test, GVIF—not VIF since Continents was factored—and conducted Durbin-Watson and Moran's I tests for spatial and auto correlation.

The highest GVIF value was 1.86, so none were over 2 and we had no concern about multicollinearity.

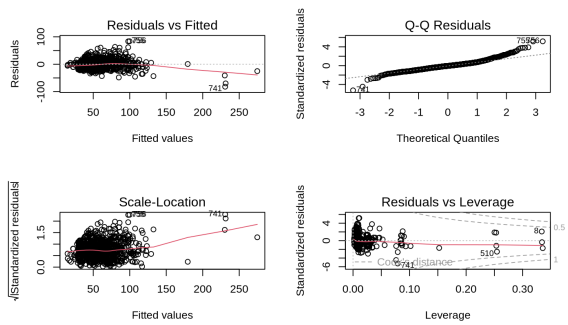

Figure 6: Total Cost Diagnostic Plots

Looking at the residual plots, we see some green and red flags. The residuals versus leverage plot shows us that there aren't any values with a Cook's distance above 0.5, meaning there aren't any highly influential points dominating the model. The QQ plot shows some deviations from normality in the tails and our Kolmogorov-Smirnov test failed, but since the sample size is so large, these are unlikely to be problematic. We can see that without the higher fitted values, our residuals are approximately centered around 0 and there is relatively constant variance. However, after observing these outliers and researching these projects, these are valid data points and cannot be removed from our dataset.

Finally, we looked at autocorrelation and spatial correlation to attempt to satisfy our independence assumption. We conducted a Durbin-Watson and Moran's I test. Both of these resulted in small p-values and rejected their null hypotheses, indicating that there was evidence of spatial and auto correlation. Throughout the project, we attempted various transformations, and pulled in regional data such as gdp and urban population, to account for these. They were unsuccessful.

These mild violations of our regression assumptions may raise problems and reduce the accuracy of our model. It is likely that different transformations we did not consider, the addition of geographic or regional predictors, and other predictors could further improve the model and better satisfy the assumption.

5 Discussion and Conclusion

In this report, we analyzed attributes' influence on transit construction projects. Overall, we found that location does make an impact, with Asia and Europe having cheaper construction costs. The continents in order from the most to least expensive projects on average are Africa, Oceania, South America, North America, Asia, and Europe.

However, with an adjusted R squared value of 0.2252, there is a large amount of unexplained variance in our first model predicting the log cost per kilometer in millions of 2023 USD. Our second model, which predicts the square root of real cost in 2023 USD, included the percent of a transit project that is tunnel as a predictor with a coeffiecient of 0.1571. This means that if a project was 100% tunnel, the model would estimate the square root of the cost to be 15.71 million dollars more on average than an equivalent project that was not tunnel at all. GDP's coefficient was -3.2e-13, meaning for each dollar of GDP for the country and midpoint year of the project, the square root of the total cost in millions of dollars goes down by a small amount. Still, GDPs of different countries can be trillions of dollars apart from each other, increasing the influence of small changes. Project length's coefficient was 1.22. Therefore, for each kilometer of extra length, the model's estimate increases by at least 1.48 million.

Overall, transit project costs can be impacted by a variety of factors each with varying magnitudes of influence. Length and location are two main factors, though. Another likely influential factor is the type of transit project such as lightrail, train, or subway. However, this data does not include this as an attribute. In addition, variation in transit construction cost may be impacted by supply chain issues, especially if the project was constructed during COVID lockdown which can be analyzed in the future.

References

Levy, A., et al. Construction Costs of Urban Rail Projects Worldwide. New York University, 15 Jan. 2025, doi:10.58153/9wnjp-kez15. "Why Do Domestic Subway and Light Rail Projects Cost More and Take Longer to Construct than Similar Projects in Italy, Sweden, Turkey, Korea, Chile, and Spain?" Transit Costs Project, 6 Mar. 2026, transitcosts.com/. "GDP (Current US$)." World Bank Open Data, data.worldbank.org/indicator/NY.GDP.MKTP.CD?most_

Brazil, Noli. "Lab 7: Spatial Autocorrelation." CRD 230: Spatial Methods in Community Research, 22 Feb. 2023, https://crd230.github.io/lab7.htmlx'x "Urban Population (% of Total Population)." World Bank Open Data, data.worldbank.org/indicator/SP.URB.TOTL.IN.ZS.

A Appendix: R Code

Paste your analysis code here. If you prefer, you can use the `verbatim` environment to format it as raw text:

```
# Example R Code
model <- lm(Y ~ X1 + X2, data = mydata)
summary(model)
plot(model)
```